Hazidien Ramadhan Utomo

CLICK FOR MY PORTOFOLIO WEBSITE VERSION

PORTFOLIO

@Hazidien

https://www.linkedin.com/in/hazidienramadhanutomo/

hazidienramadhanutomo@gmail.com

2025

ABOUT ME



GIS SPECIALIST

HI I'M HAZIDIEN RAMADHAN UTOMO

Urban and Regional Planning graduate from Institut Teknologi Sepuluh Nopember (ITS) with experience in spatial analysis, GIS, and remote sensing. Applied ArcGIS, ArcPy, and Global Mapper to assess rooftop solar potential across approximately 786,527 buildings in 31 districts of Surabaya, integrating LiDAR-derived data and solar radiation modelling. Experienced in land-use change modelling and transportation planning, with additional strengths in analytical problem-solving, team leadership, and coordination.

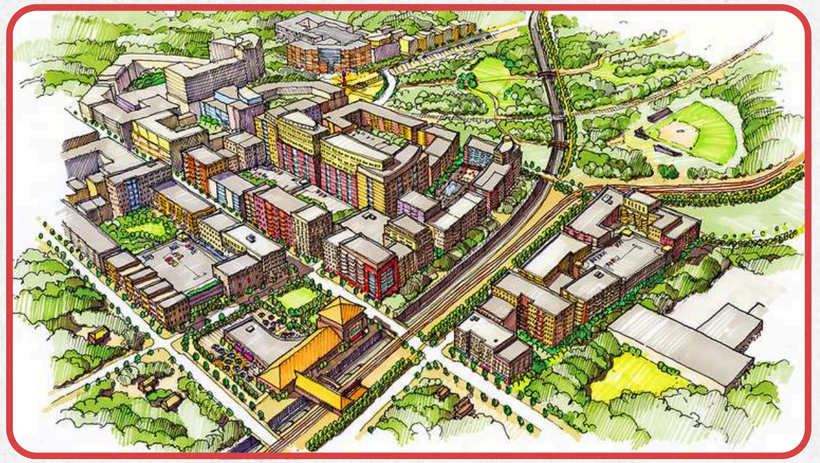
MY WEBSITE: CLICK HERE FOR MY PORTOFOLIO

EDUCATION

URBAN PLANNING

Urban and Regional Planning is a multidisciplinary field that focuses on designing and managing sustainable cities and regions. The program equips students with knowledge in spatial planning, land use, transportation, and urban design, supported by geospatial technology and data analysis.





- Urban Planning & Design Laboratory – Focuses on urban form, spatial planning, and urban design strategies.
- Regional Planning Laboratory – Explores regional development, policy, and spatial analysis at a wider territorial scale.
- Computation & Modeling Laboratory – Specializes in GIS, remote sensing, urban modeling, and transportation planning.

MY FOCUS

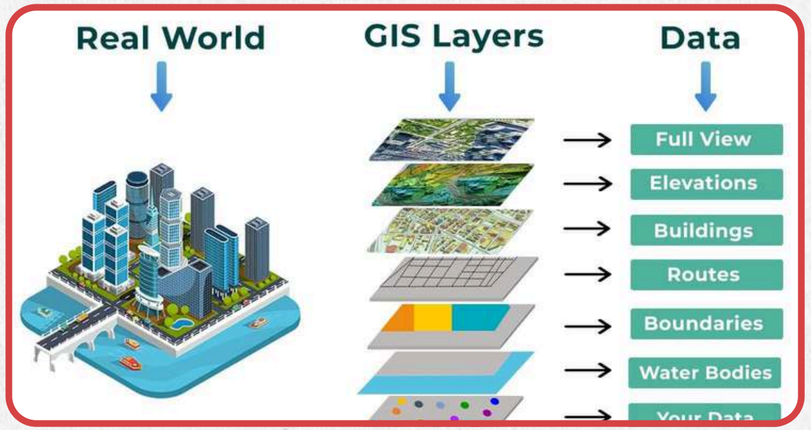
URBAN PLANNING STUDIO

Engaged in collaborative projects focusing on spatial planning, land use strategies, and urban design to create sustainable and livable cities.



GIS AND TRASNPORTATION ANALYST

Specialized in geospatial analysis, land use modeling, and transportation planning using tools such as ArcGIS, Google Earth Engine, and GeoSOS-FLUS.

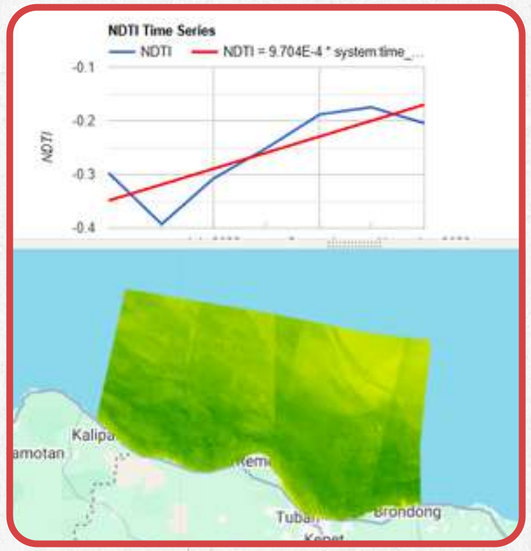


SKILL

gis portfolio

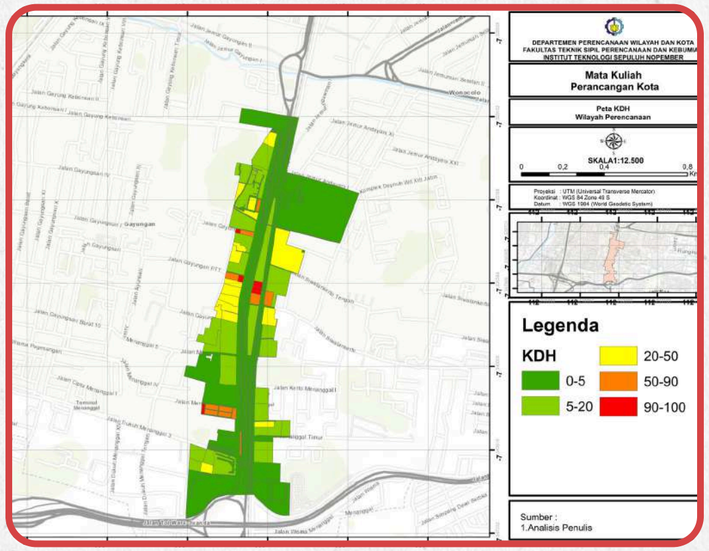
REMOTE SENSING

Conducting coastal and land cover analysis using Google Earth Engine (GEE) with indices such as NDTI, NDBI, NDWI, and others, as well as processing LiDAR data for spatial modeling and environmental monitoring.



GIS

Performing spatial data management and transportation analysis, including accessibility studies, land use modeling, and geospatial visualization using ArcGIS and other GIS tools.



URBAN DESIGN

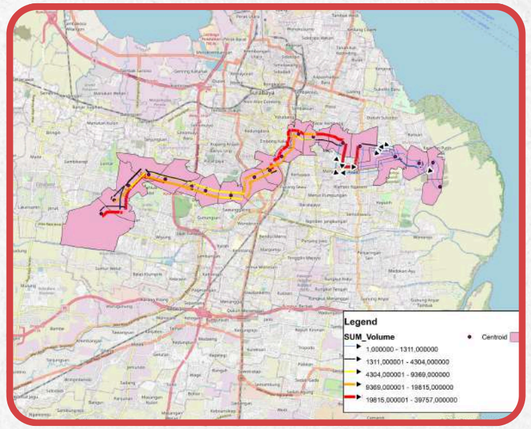
Designing urban spaces and public areas with a focus on livability, walkability, and sustainability, integrating planning concepts into visual and practical design outputs.



WORK EXPERIENCE

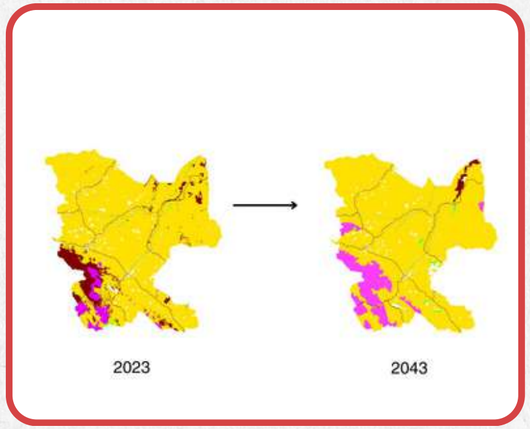
MRT SURVEYOR

Conducted household surveys and traffic counting to support urban mobility and transportation planning studies, including calculations using the Four Step Model (trip generation, trip distribution, mode choice, and route assignment).



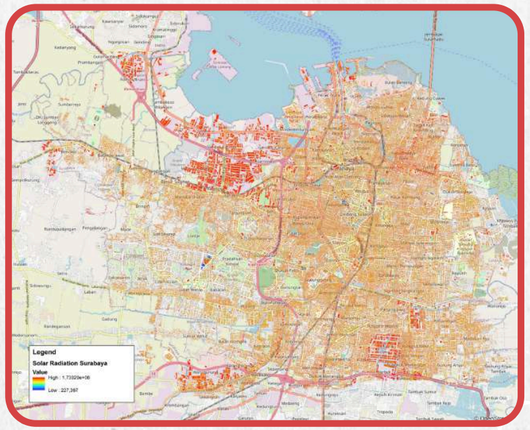
RESEARCH ANALYSIS

Performed land use change modeling using GeoSOS-FLUS in Rokan Hulu, focusing on spatial dynamics and future urban growth projection.



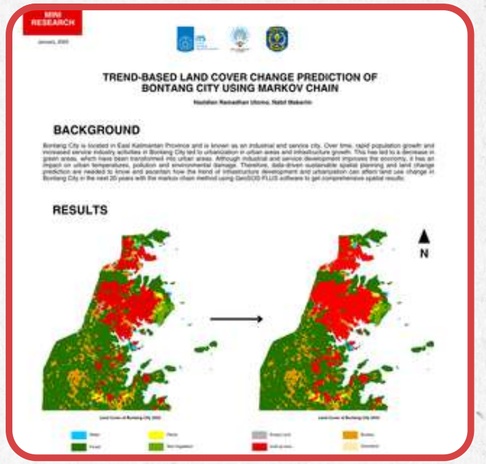
GREENOVA


Assisted in spatial analysis for solar energy potential modeling in Surabaya by processing LiDAR data into nDSM to identify suitable areas for solar panel installation.

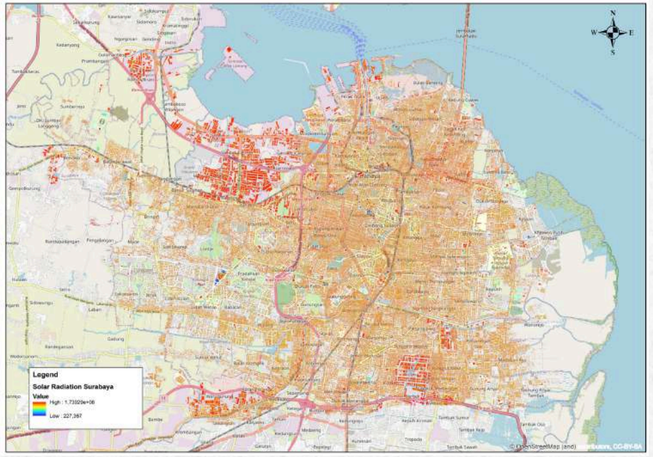


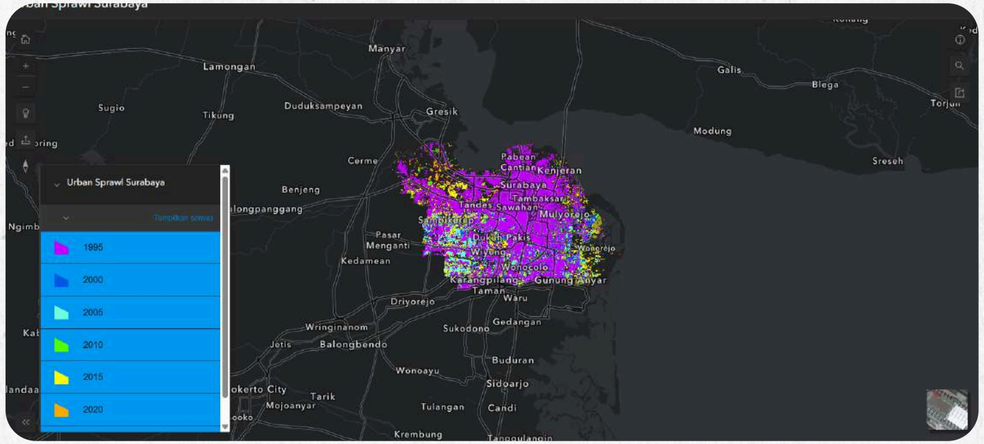
PROJECT PORTFOLIO


gis portfolio











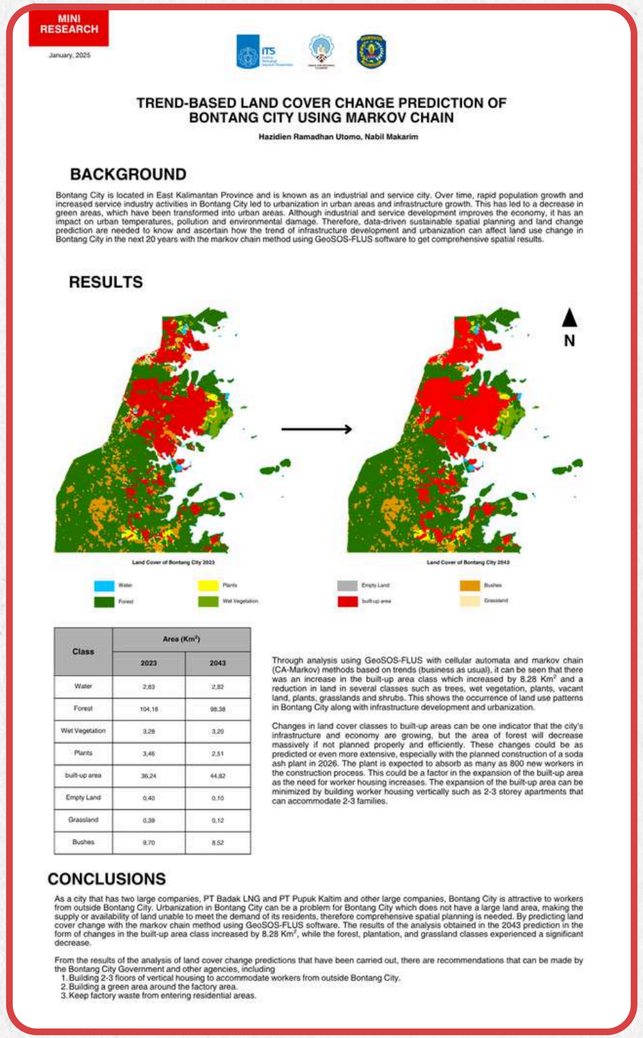
PROJECT 1

gis portfolio

LAND COVER CHANGES AT BONTANG CITY

This project predicts land cover change in Bontang City over the next 20 years using the Markov Chain method in GeoSOS-FLUS. Results show an 8.28 km² increase in built-up areas and significant loss of forests and vegetation due to urbanization and industrial growth. Recommendations include promoting vertical housing, preserving green areas, and improving waste management

CLICK HERE TO ACCESS THE FULL POSTER



MINI RESEARCH

January, 2025

TREND-BASED LAND COVER CHANGE PREDICTION OF BONTANG CITY USING MARKOV CHAIN

Hazidien Ramadhan Utomo, Nabil Makarim

BACKGROUND

Bontang City is located in East Kalimantan Province and is known as an industrial and service city. Over time, rapid population growth and increased service industry activities in Bontang City led to urbanization in urban areas and infrastructure growth. This has led to a decrease in green areas, which have been transformed into urban areas. Although industrial and service development improves the economy, it has an impact on urban temperatures, pollution and environmental damage. Therefore, data-driven sustainable spatial planning and land change prediction are needed to know and ascertain how the trend of infrastructure development and urbanization can affect land use change in Bontang City in the next 20 years with the markov chain method using GeoSOS-FLUS software to get comprehensive spatial results.

RESULTS

Class	Area (Km²)	
	2023	2043
Water	2,83	2,82
Forest	104,18	98,38
Wet Vegetation	3,28	3,20
Plants	3,46	2,51
built-up area	36,24	44,82
Empty Land	0,40	0,10
Grassland	0,39	0,12
Bushes	9,70	8,52

Through analysis using GeoSOS-FLUS with cellular automata and markov chain (CA-Markov) methods based on trends (business as usual), it can be seen that there was an increase in the built-up area class which increased by 8.28 Km² and a reduction in land in several classes such as trees, wet vegetation, plants, vacant land, plants, grasslands and shrubs. This shows the occurrence of land use patterns in Bontang City along with infrastructure development and urbanization.

Changes in land cover classes to built-up areas can be one indicator that the city's infrastructure and economy are growing, but the area of forest will decrease massively if not planned properly and efficiently. These changes could be as predicted or even more extensive, especially with the planned construction of a soda ash plant in 2026. The plant is expected to absorb as many as 800 new workers in the construction process. This could be a factor in the expansion of the built-up area as the need for worker housing increases. The expansion of the built-up area can be minimized by building worker housing vertically such as 2-3 storey apartments that can accommodate 2-3 families.

CONCLUSIONS

As a city that has two large companies, PT Badak LNG and PT Pupuk Kaltim and other large companies, Bontang City is attractive to workers from outside Bontang City. Urbanization in Bontang City can be a problem for Bontang City which does not have a large land area, making the supply or availability of land unable to meet the demand of its residents, therefore comprehensive spatial planning is needed. By predicting land cover change with the markov chain method using GeoSOS-FLUS software. The results of the analysis obtained in the 2043 prediction in the form of changes in the built-up area class increased by 8.28 Km², while the forest, plantation, and grassland classes experienced a significant decrease.

From the results of the analysis of land cover change predictions that have been carried out, there are recommendations that can be made by the Bontang City Government and other agencies, including

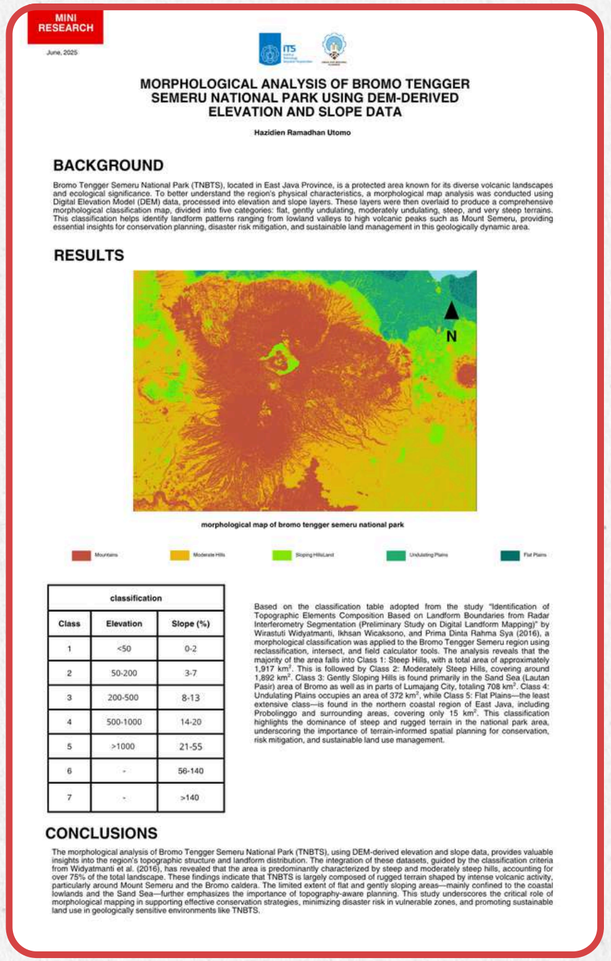
1. Building 2-3 floors of vertical housing to accommodate workers from outside Bontang City.
2. Building a green area around the factory area.
3. Keep factory waste from entering residential areas.

PROJECT 2

MORPHOLOGICAL ANALYSIS OF BROMO TENGGER SEMERU NATIONAL PARK USING DEM-DERIVED ELEVATION AND SLOPE DATA

This study maps the morphology of Bromo Tengger Semeru National Park using DEM-derived elevation and slope data. Results show that over 75% of the area is dominated by steep and moderately steep terrain, shaped by volcanic activity around Mount Semeru and Bromo. These findings provide essential insights for conservation planning, disaster risk mitigation, and sustainable land management.

CLICK HERE TO ACCESS THE FULL POSTER



MINI RESEARCH

June, 2025

MORPHOLOGICAL ANALYSIS OF BROMO TENGGER SEMERU NATIONAL PARK USING DEM-DERIVED ELEVATION AND SLOPE DATA

Hazidien Ramadhan Utomo

BACKGROUND

Bromo Tengger Semeru National Park (TNBTS), located in East Java Province, is a protected area known for its diverse volcanic landscapes and ecological significance. To better understand the region's physical characteristics, a morphological map analysis was conducted using Digital Elevation Model (DEM) data, processed into elevation and slope layers. These layers were then overlaid to produce a comprehensive morphological classification map, divided into five categories: flat, gently undulating, moderately undulating, steep, and very steep terrains. This classification helps identify landform patterns ranging from lowland valleys to high volcanic peaks such as Mount Semeru, providing essential insights for conservation planning, disaster risk mitigation, and sustainable land management in this geologically dynamic area.

RESULTS

morphological map of bromo tengger semeru national park

Mountains | Moderate Hills | Sloping Hills/Land | Undulating Plains | Flat Plains

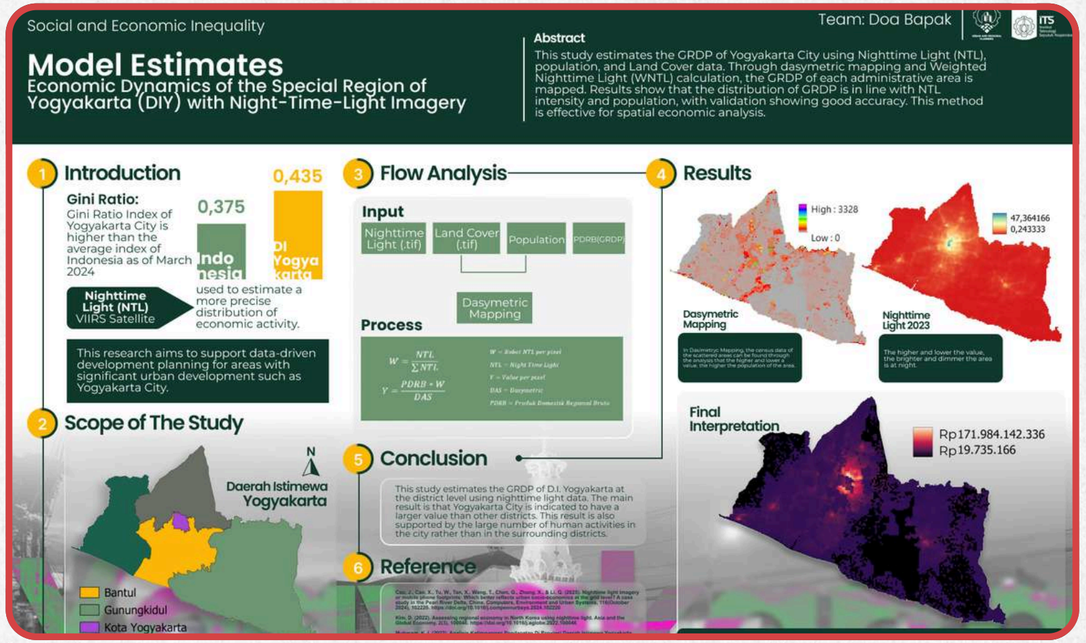
classification		
Class	Elevation	Slope (%)
1	<50	0-2
2	50-200	3-7
3	200-500	8-13
4	500-1000	14-20
5	>1000	21-55
6	-	56-140
7	-	>140

Based on the classification table adopted from the study "Identification of Topographic Elements Composition Based on Landform Boundaries from Radar Interferometry Segmentation (Preliminary Study on Digital Landform Mapping)" by Wirastuti Widyatmanti, Ikhsan Wicaksono, and Prima Dinta Rahma Sya (2016), a morphological classification was applied to the Bromo Tengger Semeru region using reclassification, intersect, and field calculator tools. The analysis reveals that the majority of the area falls into Class 1: Steep Hills, with a total area of approximately 1,917 km^2. This is followed by Class 2: Moderately Steep Hills, covering around 1,892 km^2. Class 3: Gently Sloping Hills is found primarily in the Sand Sea (Lautan Pasir) area of Bromo as well as in parts of Lumajang City, totaling 708 km^2. Class 4: Undulating Plains occupies an area of 372 km^2, while Class 5: Flat Plains—the least extensive class—is found in the northern coastal region of East Java, including Probolinggo and surrounding areas, covering only 15 km^2. This classification highlights the dominance of steep and rugged terrain in the national park area, underscoring the importance of terrain-informed spatial planning for conservation, risk mitigation, and sustainable land use management.

CONCLUSIONS

The morphological analysis of Bromo Tengger Semeru National Park (TNBTS), using DEM-derived elevation and slope data, provides valuable insights into the region's topographic structure and landform distribution. The integration of these datasets, guided by the classification criteria from Widyatmanti et al. (2016), has revealed that the area is predominantly characterized by steep and moderately steep hills, accounting for over 75% of the total landscape. These findings indicate that TNBTS is largely composed of rugged terrain shaped by intense volcanic activity, particularly around Mount Semeru and the Bromo caldera. The limited extent of flat and gently sloping areas—mainly confined to the coastal lowlands and the Sand Sea—further emphasizes the importance of topography-aware planning. This study underscores the critical role of morphological mapping in supporting effective conservation strategies, minimizing disaster risk in vulnerable zones, and promoting sustainable land use in geologically sensitive environments like TNBTS.

PROJECT 3

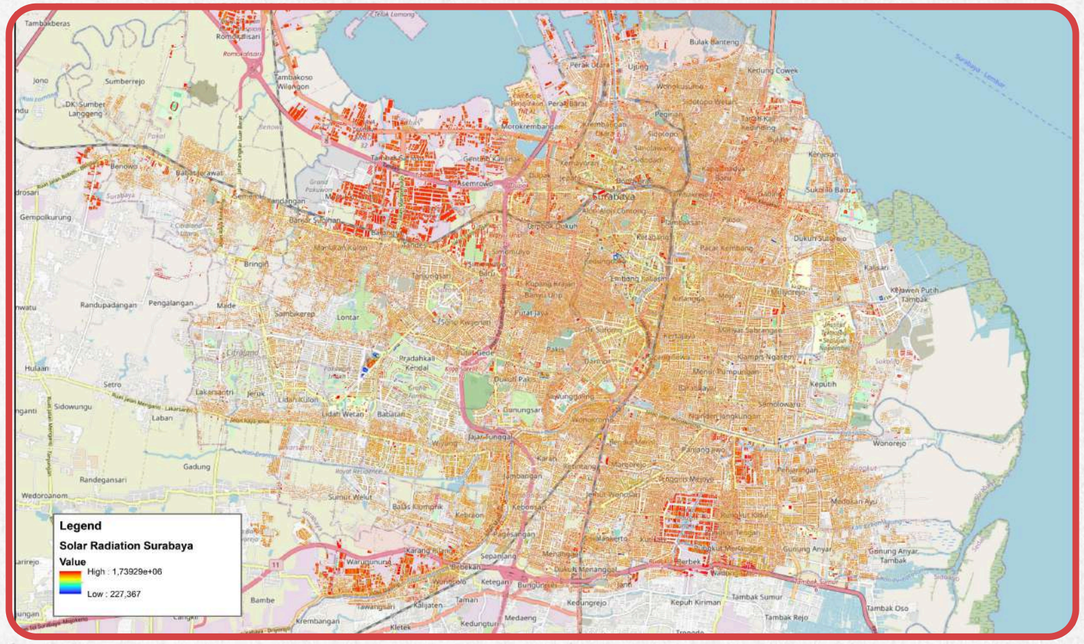


MODEL ESTIMATES
ECONOMIC DYNAMICS OF THE SPECIAL REGION OF YOGYAKARTA (DIY) WITH NIGHT-TIME-LIGHT IMAGERY

This study estimates the GRDP of Yogyakarta Special Region using Night-Time Light (NTL) imagery, land cover, and population data with dasymetric mapping. Results show that Yogyakarta City has the highest economic activity compared to other districts, supported by its high urban intensity. The findings demonstrate that NTL is effective for spatial economic analysis and supports data-driven development planning.

CLICK HERE TO ACCESS THE FULL POSTER

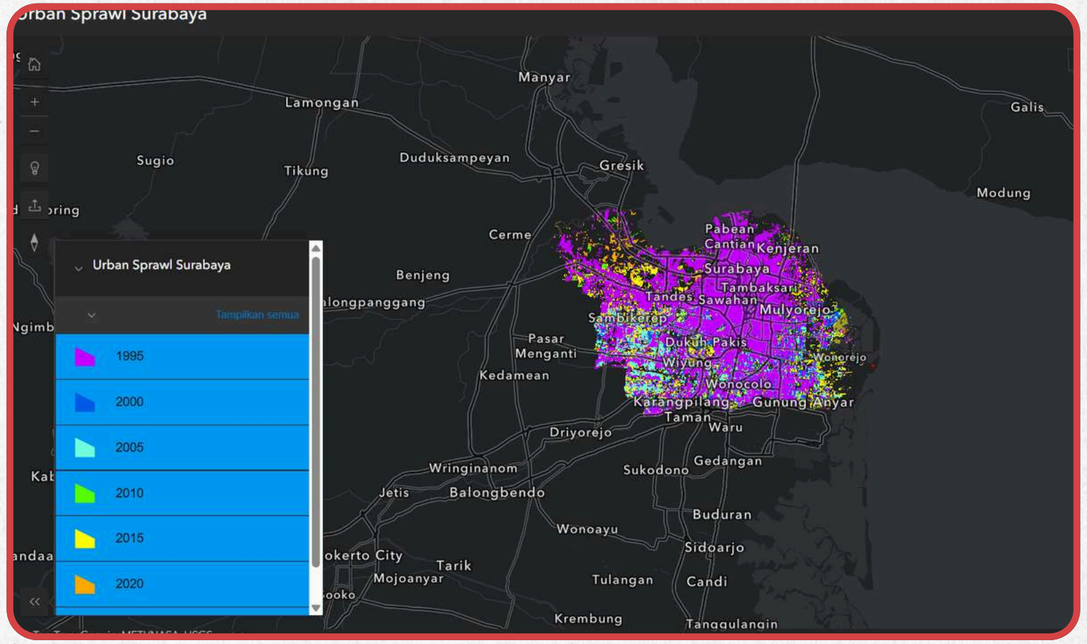
PROJECT 4



SOLAR ENERGY POTENTIAL ANALYSIS IN SURABAYA USING LIDAR-DERIVED NDSM AND ARCGIS SOLAR RADIATION TOOL

This project analyzes the solar energy potential of Surabaya using LiDAR-derived nDSM processed with the ArcGIS Area Solar Radiation tool, mapping annual rooftop solar potential and assessing spatial variability of solar irradiance (kWh/m²/year) by considering building orientation, shading, land cover, and urban density, and further estimating rooftop photovoltaic electricity generation potential of up to approximately 234 kWh/m²/year per panel based on solar radiation data, module efficiency, and performance ratio assumptions.

PROJECT 5

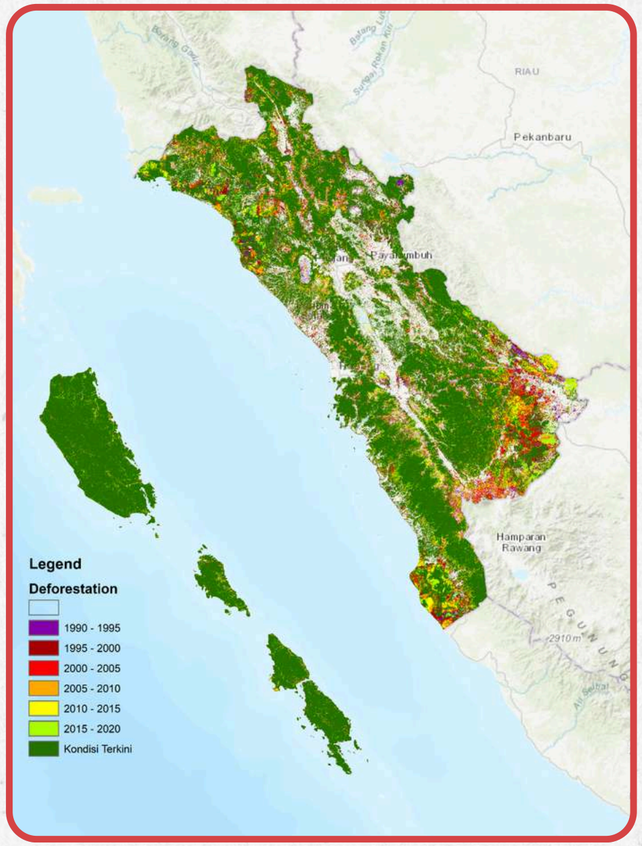


URBAN EXPANSION MAP AT SURABAYA CITY

This map shows the growth and distribution of population in Surabaya City from 1995 to 2025. The distribution of the population tends to point to the east and north. From this map, it is expected that stakeholders can make more appropriate policies in the future.

CLICK HERE TO ACCESS INTERACTIVE MAP

PROJECT 6



SPATIO-TEMPORAL DEFORESTATION MODELING PROJECT – WEST SUMATRA

The Spatio-Temporal Deforestation Modeling Project in West Sumatra (Nov 2025–Dec 2025) involved analyzing multitemporal Landsat imagery from 2009 to 2024 using Google Earth Engine to identify patterns of forest loss, degradation, and regrowth, applying vegetation index–based thresholding and the Normalized Difference Fraction Index (NDFI) to detect deforestation dynamics, hotspots, and temporal change trajectories, and producing spatial outputs such as deforestation maps, hotspot analyses, and comparative method evaluations to support environmental monitoring and spatial planning decision-making.

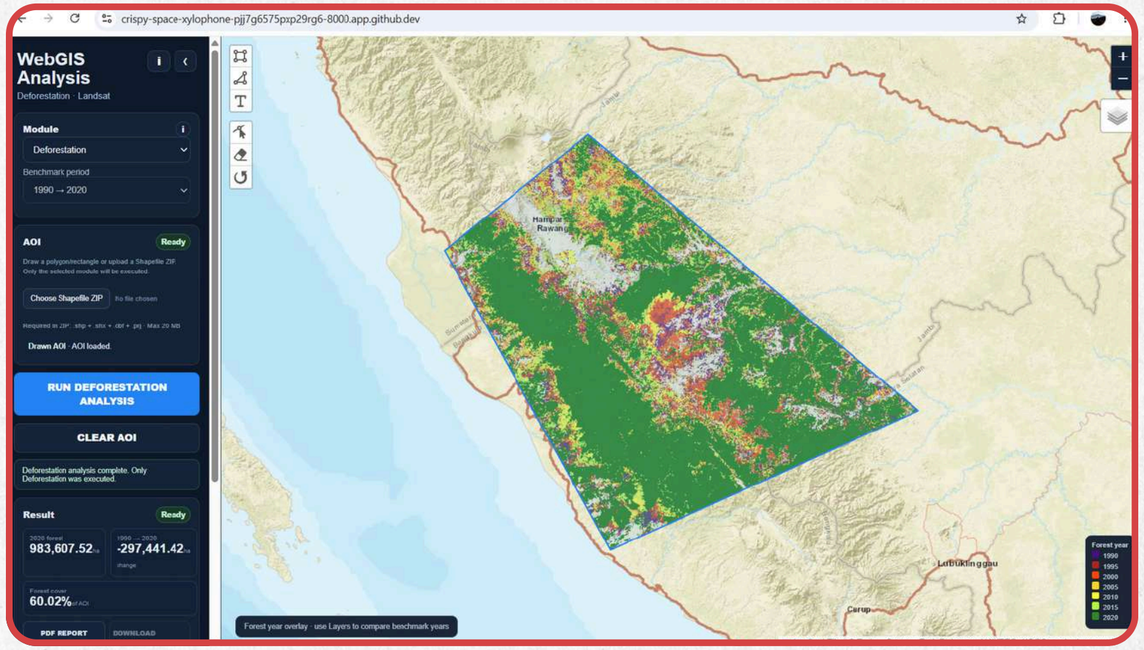
CLICK HERE TO ACCESS PROJECT REPORT

PROJECT 7

gis portfolio


hazidien.github.io/Potensi-Lokasi-Halte-ITS/
WEBGIS - ITS
PETA POTENSI HALTE ICAR ITS
KLASIFIKASI POTENSI
All Potensi
Sangat Tidak Potensial
Tidak Potensial
Cukup Potensial
Potensial
Sangat Potensial
INFORMASI
Menampilkan seluruh kelas potensi.
Jalan Arief Rahman Hakim
Jalan Puri Sukolilo Barat II
Jalan Arief Rahman Hakim
Gang BPM
Kenjeng Indo Nong
Jalan Keputih Gang I A
Jalan Keputih Perintis I
Jalan Keputih Perintis II
Jalan Keputih Perintis III
Jalan Keputih Perintis IV
Jalan Keputih Perintis V
Jalan Keputih Perintis VI
Jalan Keputih Perintis VII
Jalan Keputih Perintis VIII
Jalan Keputih Perintis IX
Jalan Keputih Perintis X
Jalan Keputih Perintis XI
Jalan Keputih Perintis XII
Jalan Keputih Perintis XIII
Jalan Keputih Perintis XIV
Jalan Keputih Perintis XV
Jalan Keputih Perintis XVI
Jalan Keputih Perintis XVII
Jalan Keputih Perintis XVIII
Jalan Keputih Perintis XIX
Jalan Keputih Perintis XX
Jalan Keputih Perintis XXI
Jalan Keputih Perintis XXII
Jalan Keputih Perintis XXIII
Jalan Keputih Perintis XXIV
Jalan Keputih Perintis XXV
Jalan Keputih Perintis XXVI
Jalan Keputih Perintis XXVII
Jalan Keputih Perintis XXVIII
Jalan Keputih Perintis XXIX
Jalan Keputih Perintis XXX
Jalan Keputih Perintis XXXI
Jalan Keputih Perintis XXXII
Jalan Keputih Perintis XXXIII
Jalan Keputih Perintis XXXIV
Jalan Keputih Perintis XXXV
Jalan Keputih Perintis XXXVI
Jalan Keputih Perintis XXXVII
Jalan Keputih Perintis XXXVIII
Jalan Keputih Perintis XXXIX
Jalan Keputih Perintis XL
Jalan Keputih Perintis XLI
Jalan Keputih Perintis XLII
Jalan Keputih Perintis XLIII
Jalan Keputih Perintis XLIV
Jalan Keputih Perintis XLV
Jalan Keputih Perintis XLVI
Jalan Keputih Perintis XLVII
Jalan Keputih Perintis XLVIII
Jalan Keputih Perintis XLIX
Jalan Keputih Perintis L
Jalan Keputih Perintis LI
Jalan Keputih Perintis LII
Jalan Keputih Perintis LIII
Jalan Keputih Perintis LIV
Jalan Keputih Perintis LV
Jalan Keputih Perintis LVI
Jalan Keputih Perintis LVII
Jalan Keputih Perintis LVIII
Jalan Keputih Perintis LIX
Jalan Keputih Perintis LX
Jalan Keputih Perintis LXI
Jalan Keputih Perintis LXII
Jalan Keputih Perintis LXIII
Jalan Keputih Perintis LXIV
Jalan Keputih Perintis LXV
Jalan Keputih Perintis LXVI
Jalan Keputih Perintis LXVII
Jalan Keputih Perintis LXVIII
Jalan Keputih Perintis LXIX
Jalan Keputih Perintis LXX
Jalan Keputih Perintis LXXI
Jalan Keputih Perintis LXXII
Jalan Keputih Perintis LXXIII
Jalan Keputih Perintis LXXIV
Jalan Keputih Perintis LXXV
Jalan Keputih Perintis LXXVI
Jalan Keputih Perintis LXXVII
Jalan Keputih Perintis LXXVIII
Jalan Keputih Perintis LXXIX
Jalan Keputih Perintis LXXX
Jalan Keputih Perintis LXXXI
Jalan Keputih Perintis LXXXII
Jalan Keputih Perintis LXXXIII
Jalan Keputih Perintis LXXXIV
Jalan Keputih Perintis LXXXV
Jalan Keputih Perintis LXXXVI
Jalan Keputih Perintis LXXXVII
Jalan Keputih Perintis LXXXVIII
Jalan Keputih Perintis LXXXIX
Jalan Keputih Perintis XC
Jalan Keputih Perintis XCI
Jalan Keputih Perintis XCII
Jalan Keputih Perintis XCIII
Jalan Keputih Perintis XCIV
Jalan Keputih Perintis XCV
Jalan Keputih Perintis XCVI
Jalan Keputih Perintis XCVII
Jalan Keputih Perintis XCVIII
Jalan Keputih Perintis XCIX
Jalan Keputih Perintis C
Jalan Keputih Perintis CI
Jalan Keputih Perintis CII
Jalan Keputih Perintis CIII
Jalan Keputih Perintis CIV
Jalan Keputih Perintis CV
Jalan Keputih Perintis CVI
Jalan Keputih Perintis CVII
Jalan Keputih Perintis CVIII
Jalan Keputih Perintis CIX
Jalan Keputih Perintis CX
Jalan Keputih Perintis CXI
Jalan Keputih Perintis CXII
Jalan Keputih Perintis CXIII
Jalan Keputih Perintis CXIV
Jalan Keputih Perintis CXV
Jalan Keputih Perintis CXVI
Jalan Keputih Perintis CXVII
Jalan Keputih Perintis CXVIII
Jalan Keputih Perintis CXIX
Jalan Keputih Perintis CXX
Jalan Keputih Perintis CXXI
Jalan Keputih Perintis CXXII
Jalan Keputih Perintis CXXIII
Jalan Keputih Perintis CXXIV
Jalan Keputih Perintis CXXV
Jalan Keputih Perintis CXXVI
Jalan Keputih Perintis CXXVII
Jalan Keputih Perintis CXXVIII
Jalan Keputih Perintis CXXIX
Jalan Keputih Perintis CXXX
Jalan Keputih Perintis CXXXI
Jalan Keputih Perintis CXXXII
Jalan Keputih Perintis CXXXIII
Jalan Keputih Perintis CXXXIV
Jalan Keputih Perintis CXXXV
Jalan Keputih Perintis CXXXVI
Jalan Keputih Perintis CXXXVII
Jalan Keputih Perintis CXXXVIII
Jalan Keputih Perintis CXXXIX
Jalan Keputih Perintis CXL
Jalan Keputih Perintis CXLI
Jalan Keputih Perintis CXLII
Jalan Keputih Perintis CXLIII
Jalan Keputih Perintis CXLIV
Jalan Keputih Perintis CXLV
Jalan Keputih Perintis CXLVI
Jalan Keputih Perintis CXLVII
Jalan Keputih Perintis CXLVIII
Jalan Keputih Perintis CXLIX
Jalan Keputih Perintis CL
Jalan Keputih Perintis CLI
Jalan Keputih Perintis CLII
Jalan Keputih Perintis CLIII
Jalan Keputih Perintis CLIV
Jalan Keputih Perintis CLV
Jalan Keputih Perintis CLVI
Jalan Keputih Perintis CLVII
Jalan Keputih Perintis CLVIII
Jalan Keputih Perintis CLIX
Jalan Keputih Perintis CLX
Jalan Keputih Perintis CLXI
Jalan Keputih Perintis CLXII
Jalan Keputih Perintis CLXIII
Jalan Keputih Perintis CLXIV
Jalan Keputih Perintis CLXV
Jalan Keputih Perintis CLXVI
Jalan Keputih Perintis CLXVII
Jalan Keputih Perintis CLXVIII
Jalan Keputih Perintis CLXIX
Jalan Keputih Perintis CLXX
Jalan Keputih Perintis CLXXI
Jalan Keputih Perintis CLXXII
Jalan Keputih Perintis CLXXIII
Jalan Keputih Perintis CLXXIV
Jalan Keputih Perintis CLXXV
Jalan Keputih Perintis CLXXVI
Jalan Keputih Perintis CLXXVII
Jalan Keputih Perintis CLXXVIII
Jalan Keputih Perintis CLXXIX
Jalan Keputih Perintis CLXXX
Jalan Keputih Perintis CLXXXI
Jalan Keputih Perintis CLXXXII
Jalan Keputih Perintis CLXXXIII
Jalan Keputih Perintis CLXXXIV
Jalan Keputih Perintis CLXXXV
Jalan Keputih Perintis CLXXXVI
Jalan Keputih Perintis CLXXXVII
Jalan Keputih Perintis CLXXXVIII
Jalan Keputih Perintis CLXXXIX
Jalan Keputih Perintis CXC
Jalan Keputih Perintis CXCI
Jalan Keputih Perintis CXCII
Jalan Keputih Perintis CXCIII
Jalan Keputih Perintis CXCIV
Jalan Keputih Perintis CXCV
Jalan Keputih Perintis CXCVI
Jalan Keputih Perintis CXCVII
Jalan Keputih Perintis CXCVIII
Jalan Keputih Perintis CXCIX
Jalan Keputih Perintis CC
Jalan Keputih Perintis CCI
Jalan Keputih Perintis CCII
Jalan Keputih Perintis CCIII
Jalan Keputih Perintis CCIV
Jalan Keputih Perintis CCV
Jalan Keputih Perintis CCVI
Jalan Keputih Perintis CCVII
Jalan Keputih Perintis CCVIII
Jalan Keputih Perintis CCIX
Jalan Keputih Perintis CCX
Jalan Keputih Perintis CCXI
Jalan Keputih Perintis CCXII
Jalan Keputih Perintis CCXIII
Jalan Keputih Perintis CCXIV
Jalan Keputih Perintis CCXV
Jalan Keputih Perintis CCXVI
Jalan Keputih Perintis CCXVII
Jalan Keputih Perintis CCXVIII
Jalan Keputih Perintis CCXIX
Jalan Keputih Perintis CCXX
Jalan Keputih Perintis CCXXI
Jalan Keputih Perintis CCXXII
Jalan Keputih Perintis CCXXIII
Jalan Keputih Perintis CCXXIV
Jalan Keputih Perintis CCXXV
Jalan Keputih Perintis CCXXVI
Jalan Keputih Perintis CCXXVII
Jalan Keputih Perintis CCXXVIII
Jalan Keputih Perintis CCXXIX
Jalan Keputih Perintis CCXXX
Jalan Keputih Perintis CCXXXI
Jalan Keputih Perintis CCXXXII
Jalan Keputih Perintis CCXXXIII
Jalan Keputih Perintis CCXXXIV
Jalan Keputih Perintis CCXXXV
Jalan Keputih Perintis CCXXXVI
Jalan Keputih Perintis CCXXXVII
Jalan Keputih Perintis CCXXXVIII
Jalan Keputih Perintis CCXXXIX
Jalan Keputih Perintis CCXL
Jalan Keputih Perintis CCXLI
Jalan Keputih Perintis CCXLII
Jalan Keputih Perintis CCXLIII
Jalan Keputih Perintis CCXLIV
Jalan Keputih Perintis CCXLV
Jalan Keputih Perintis CCXLVI
Jalan Keputih Perintis CCXLVII
Jalan Keputih Perintis CCXLVIII
Jalan Keputih Perintis CCXLIX
Jalan Keputih Perintis CCL
Jalan Keputih Perintis CCLI
Jalan Keputih Perintis CCLII
Jalan Keputih Perintis CCLIII
Jalan Keputih Perintis CCLIV
Jalan Keputih Perintis CCLV
Jalan Keputih Perintis CCLVI
Jalan Keputih Perintis CCLVII
Jalan Keputih Perintis CCLVIII
Jalan Keputih Perintis CCLIX
Jalan Keputih Perintis CCLX
Jalan Keputih Perintis CCLXI
Jalan Keputih Perintis CCLXII
Jalan Keputih Perintis CCLXIII
Jalan Keputih Perintis CCLXIV
Jalan Keputih Perintis CCLXV
Jalan Keputih Perintis CCLXVI
Jalan Keputih Perintis CCLXVII
Jalan Keputih Perintis CCLXVIII
Jalan Keputih Perintis CCLXIX
Jalan Keputih Perintis CCLXX
Jalan Keputih Perintis CCLXXI
Jalan Keputih Perintis CCLXXII
Jalan Keputih Perintis CCLXXIII
Jalan Keputih Perintis CCLXXIV
Jalan Keputih Perintis CCLXXV
Jalan Keputih Perintis CCLXXVI
Jalan Keputih Perintis CCLXXVII
Jalan Keputih Perintis CCLXXVIII
Jalan Keputih Perintis CCLXXIX
Jalan Keputih Perintis CCLXXX
Jalan Keputih Perintis CCLXXXI
Jalan Keputih Perintis CCLXXXII
Jalan Keputih Perintis CCLXXXIII
Jalan Keputih Perintis CCLXXXIV
Jalan Keputih Perintis CCLXXXV
Jalan Keputih Perintis CCLXXXVI
Jalan Keputih Perintis CCLXXXVII
Jalan Keputih Perintis CCLXXXVIII
Jalan Keputih Perintis CCLXXXIX
Jalan Keputih Perintis CCXC
Jalan Keputih Perintis CCXCI
Jalan Keputih Perintis CCXCII
Jalan Keputih Perintis CCXCIII
Jalan Keputih Perintis CCXCIV
Jalan Keputih Perintis CCXCV
Jalan Keputih Perintis CCXCVI
Jalan Keputih Perintis CCXCVII
Jalan Keputih Perintis CCXCVIII
Jalan Keputih Perintis CCXCIX
Jalan Keputih Perintis CCC
Jalan Keputih Perintis CCCI
Jalan Keputih Perintis CCCII
Jalan Keputih Perintis CCCIII
Jalan Keputih Perintis CCCIV
Jalan Keputih Perintis CCCV
Jalan Keputih Perintis CCCVI
Jalan Keputih Perintis CCCVII
Jalan Keputih Perintis CCCVIII
Jalan Keputih Perintis CCCIX
Jalan Keputih Perintis CCCX
Jalan Keputih Perintis CCCXI
Jalan Keputih Perintis CCCXII
Jalan Keputih Perintis CCCXIII
Jalan Keputih Perintis CCCXIV
Jalan Keputih Perintis CCCXV
Jalan Keputih Perintis CCCXVI
Jalan Keputih Perintis CCCXVII
Jalan Keputih Perintis CCCXVIII
Jalan Keputih Perintis CCCXIX
Jalan Keputih Perintis CCCXX
Jalan Keputih Perintis CCCXXI
Jalan Keputih Perintis CCCXXII
Jalan Keputih Perintis CCCXXIII
Jalan Keputih Perintis CCCXXIV
Jalan Keputih Perintis CCCXXV
Jalan Keputih Perintis CCCXXVI
Jalan Keputih Perintis CCCXXVII
Jalan Keputih Perintis CCCXXVIII
Jalan Keputih Perintis CCCXXIX
Jalan Keputih Perintis CCCXXX
Jalan Keputih Perintis CCCXXXI
Jalan Keputih Perintis CCCXXXII
Jalan Keputih Perintis CCCXXXIII
Jalan Keputih Perintis CCCXXXIV
Jalan Keputih Perintis CCCXXXV
Jalan Keputih Perintis CCCXXXVI
Jalan Keputih Perintis CCCXXXVII
Jalan Keputih Perintis CCCXXXVIII
Jalan Keputih Perintis CCCXXXIX
Jalan Keputih Perintis CCCXL
Jalan Keputih Perintis CCCXLI
Jalan Keputih Perintis CCCXLII
Jalan Keputih Perintis CCCXLIII
Jalan Keputih Perintis CCCXLIV
Jalan Keputih Perintis CCCXLV
Jalan Keputih Perintis CCCXLVI
Jalan Keputih Perintis CCCXLVII
Jalan Keputih Perintis CCCXLVIII
Jalan Keputih Perintis CCCXLIX
Jalan Keputih Perintis CCCL
Jalan Keputih Perintis CCCLI
Jalan Keputih Perintis CCCLII
Jalan Keputih Perintis CCCLIII
Jalan Keputih Perintis CCCLIV
Jalan Keputih Perintis CCCLV
Jalan Keputih Perintis CCCLVI
Jalan Keputih Perintis CCCLVII
Jalan Keputih Perintis CCCLVIII
Jalan Keputih Perintis CCCLIX
Jalan Keputih Perintis CCCLX
Jalan Keputih Perintis CCCLXI
Jalan Keputih Perintis CCCLXII
Jalan Keputih Perintis CCCLXIII
Jalan Keputih Perintis CCCLXIV
Jalan Keputih Perintis CCCLXV
Jalan Keputih Perintis CCCLXVI
Jalan Keputih Perintis CCCLXVII
Jalan Keputih Perintis CCCLXVIII
Jalan Keputih Perintis CCCLXIX
Jalan Keputih Perintis CCCLXX
Jalan Keputih Perintis CCCLXXI
Jalan Keputih Perintis CCCLXXII
Jalan Keputih Perintis CCCLXXIII
Jalan Keputih Perintis CCCLXXIV
Jalan Keputih Perintis CCCLXXV
Jalan Keputih Perintis CCCLXXVI
Jalan Keputih Perintis CCCLXXVII
Jalan Keputih Perintis CCCLXXVIII
Jalan Keputih Perintis CCCLXXIX
Jalan Keputih Perintis CCCLXXX
Jalan Keputih Perintis CCCLXXXI
Jalan Keputih Perintis CCCLXXXII
Jalan Keputih Perintis CCCLXXXIII
Jalan Keputih Perintis CCCLXXXIV
Jalan Keputih Perintis CCCLXXXV
Jalan Keputih Perintis CCCLXXXVI
Jalan Keputih Perintis CCCLXXXVII
Jalan Keputih Perintis CCCLXXXVIII
Jalan Keputih Perintis CCCLXXXIX
Jalan Keputih Perintis CCCXC
Jalan Keputih Perintis CCCXCI
Jalan Keputih Perintis CCCXCII
Jalan Keputih Perintis CCCXCIII
Jalan Keputih Perintis CCCXCIV
Jalan Keputih Perintis CCCXCV
Jalan Keputih Perintis CCCXCVI
Jalan Keputih Perintis CCCXCVII
Jalan Keputih Perintis CCCXCVIII
Jalan Keputih Perintis CCCXCIX
Jalan Keputih Perintis CD
Jalan Keputih Perintis CDI
Jalan Keputih Perintis CDII
Jalan Keputih Perintis CDIII
Jalan Keputih Perintis CDIV
Jalan Keputih Perintis CDV
Jalan Keputih Perintis CDVI
Jalan Keputih Perintis CDVII
Jalan Keputih Perintis CDVIII
Jalan Keputih Perintis CDIX
Jalan Keputih Perintis CDX
Jalan Keputih Perintis CDXI
Jalan Keputih Perintis CDXII
Jalan Keputih Perintis CDXIII
Jalan Keputih Perintis CDXIV
Jalan Keputih Perintis CDXV
Jalan Keputih Perintis CDXVI
Jalan Keputih Perintis CDXVII
Jalan Keputih Perintis CDXVIII
Jalan Keputih Perintis CDXIX
Jalan Keputih Perintis CDXX
Jalan Keputih Perintis CDXXI
Jalan Keputih Perintis CDXXII
Jalan Keputih Perintis CDXXIII
Jalan Keputih Perintis CDXXIV
Jalan Keputih Perintis CDXXV
Jalan Keputih Perintis CDXXVI
Jalan Keputih Perintis CDXXVII
Jalan Keputih Perintis CDXXVIII
Jalan Keputih Perintis CDXXIX
Jalan Keputih Perintis CDXXX
Jalan Keputih Perintis CDXXXI
Jalan Keputih Perintis CDXXXII
Jalan Keputih Perintis CDXXXIII
Jalan Keputih Perintis CDXXXIV
Jalan Keputih Perintis CDXXXV
Jalan Keputih Perintis CDXXXVI
Jalan Keputih Perintis CDXXXVII
Jalan Keputih Perintis CDXXXVIII
Jalan Keputih Perintis CDXXXIX
Jalan Keputih Perintis CDXL
Jalan Keputih Perintis CDXLI
Jalan Keputih Perintis CDXLII
Jalan Keputih Perintis CDXLIII
Jalan Keputih Perintis CDXLIV
Jalan Keputih Perintis CDXLV
Jalan Keputih Perintis CDXLVI
Jalan Keputih Perintis CDXLVII
Jalan Keputih Perintis CDXLVIII
Jalan Keputih Perintis CDXLIX
Jalan Keputih Perintis CDL
Jalan Keputih Perintis CDLI
Jalan Keputih Perintis CDLII
Jalan Keputih Perintis CDLIII
Jalan Keputih Perintis CDLIV
Jalan Keputih Perintis CDLV
Jalan Keputih Perintis CDLVI
Jalan Keputih Perintis CDLVII
Jalan Keputih Perintis CDLVIII
Jalan Keputih Perintis CDLIX
Jalan Keputih Perintis CDLX
Jalan Keputih Perintis CDLXI
Jalan Keputih Perintis CDLXII
Jalan Keputih Perintis CDLXIII
Jalan Keputih Perintis CDLXIV
Jalan Keputih Perintis CDLXV
Jalan Keputih Perintis CDLXVI
Jalan Keputih Perintis CDLXVII
Jalan Keputih Perintis CDLXVIII
Jalan Keputih Perintis CDLXIX
Jalan Keputih Perintis CDLXX
Jalan Keputih Perintis CDLXXI
Jalan Keputih Perintis CDLXXII
Jalan Keputih Perintis CDLXXIII
Jalan Keputih Perintis CDLXXIV
Jalan Keputih Perintis CDLXXV
Jalan Keputih Perintis CDLXXVI
Jalan Keputih Perintis CDLXXVII
Jalan Keputih Perintis CDLXXVIII
Jalan Keputih Perintis CDLXXIX
Jalan Keputih Perintis CDLXXX
Jalan Keputih Perintis CDLXXXI
Jalan Keputih Perintis CDLXXXII
Jalan Keputih Perintis CDLXXXIII
Jalan Keputih Perintis CDLXXXIV
Jalan Keputih Perintis CDLXXXV
Jalan Keputih Perintis CDLXXXVI
Jalan Keputih Perintis CDLXXXVII
Jalan Keputih Perintis CDLXXXVIII
Jalan Keputih Perintis CDLXXXIX
Jalan Keputih Perintis CDXC
Jalan Keputih Perintis CDXCI
Jalan Keputih Perintis CDXCII
Jalan Keputih Perintis CDXCIII
Jalan Keputih Perintis CDXCIV
Jalan Keputih Perintis CDXCV
Jalan Keputih Perintis CDXCVI
Jalan Keputih Perintis CDXCVII
Jalan Keputih Perintis CDXCVIII
Jalan Keputih Perintis CDXCIX
Jalan Keputih Perintis D
Jalan Keputih Perintis DI
Jalan Keputih Perintis DII
Jalan Keputih Perintis DIII
Jalan Keputih Perintis DIV
Jalan Keputih Perintis DV
Jalan Keputih Perintis DVI
Jalan Keputih Perintis DVII
Jalan Keputih Perintis DVIII
Jalan Keputih Perintis DIX
Jalan Keputih Perintis DX
Jalan Keputih Perintis DXI
Jalan Keputih Perintis DXII
Jalan Keputih Perintis DXIII
Jalan Keputih Perintis DXIV
Jalan Keputih Perintis DXV
Jalan Keputih Perintis DXVI
Jalan Keputih Perintis DXVII
Jalan Keputih Perintis DXVIII
Jalan Keputih Perintis DXIX
Jalan Keputih Perintis DXX
Jalan Keputih Perintis DXXI
Jalan Keputih Perintis DXXII
Jalan Keputih Perintis DXXIII
Jalan Keputih Perintis DXXIV
Jalan Keputih Perintis DXXV
Jalan Keputih Perintis DXXVI
Jalan Keputih Perintis DXXVII
Jalan Keputih Perintis DXXVIII
Jalan Keputih Perintis DXXIX
Jalan Keputih Perintis DXXX
Jalan Keputih Perintis DXXXI
Jalan Keputih Perintis DXXXII
Jalan Keputih Perintis DXXXIII
Jalan Keputih Perintis DXXXIV
Jalan Keputih Perintis DXXXV
Jalan Keputih Perintis DXXXVI
Jalan Keputih Perintis DXXXVII
Jalan Keputih Perintis DXXXVIII
Jalan Keputih Perintis DXXXIX
Jalan Keputih Perintis DXL
Jalan Keputih Perintis DXLI
Jalan Keputih Perintis DXLII
Jalan Keputih Perintis DXLIII
Jalan Keputih Perintis DXLIV
Jalan Keputih Perintis DXLV
Jalan Keputih Perintis DXLVI
Jalan Keputih Perintis DXLVII
Jalan Keputih Perintis DXLVIII
Jalan Keputih Perintis DXLIX
Jalan Keputih Perintis DL
Jalan Keputih Perintis DLI
Jalan Keputih Perintis DLII
Jalan Keputih Perintis DLIII
Jalan Keputih Perintis DLIV
Jalan Keputih Perintis DLV
Jalan Keputih Perintis DLVI
Jalan Keputih Perintis DLVII
Jalan Keputih Perintis DLVIII
Jalan Keputih Perintis DLIX
Jalan Keputih Perintis DLX
Jalan Keputih Perintis DLXI
Jalan Keputih Perintis DLXII
Jalan Keputih Perintis DLXIII
Jalan Keputih Perintis DLXIV
Jalan Keputih Perintis DLXV
Jalan Keputih Perintis DLXVI
Jalan Keputih Perintis DLXVII
Jalan Keputih Perintis DLXVIII
Jalan Keputih Perintis DLXIX
Jalan Keputih Perintis DLXX
Jalan Keputih Perintis DLXXI
Jalan Keputih Perintis DLXXII
Jalan Keputih Perintis DLXXIII
Jalan Keputih Perintis DLXXIV
Jalan Keputih Perintis DLXXV
Jalan Keputih Perintis DLXXVI
Jalan Keputih Perintis DLXXVII
Jalan Keputih Perintis DLXXVIII
Jalan Keputih Perintis DLXXIX
Jalan Keputih Perintis DLXXX
Jalan Keputih Perintis DLXXXI
Jalan Keputih Perintis DLXXXII
Jalan Keputih Perintis DLXXXIII
Jalan Keputih Perintis DLXXXIV
Jalan Keputih Perintis DLXXXV
Jalan Keputih Perintis DLXXXVI
Jalan Keputih Perintis DLXXXVII
Jalan Keputih Perintis DLXXXVIII
Jalan Keputih Perintis DLXXXIX
Jalan Keputih Perintis DXC
Jalan Keputih Perintis DXCI
Jalan Keputih Perintis DXCII
Jalan Keputih Perintis DXCIII
Jalan Keputih Perintis DXCIV
Jalan Keputih Perintis DXCV
Jalan Keputih Perintis DXCVI
Jalan Keputih Perintis DXCVII
Jalan Keputih Perintis DXCVIII
Jalan Keputih Perintis DXCIX
Jalan Keputih Perintis DC
Jalan Keputih Perintis DCI
Jalan Keputih Perintis DCII
Jalan Keputih Perintis DCIII
Jalan Keputih Perintis DCIV
Jalan Keputih Perintis DCV
Jalan Keputih Perintis DCVI
Jalan Keputih Perintis DCVII
Jalan Keputih Perintis DCVIII
Jalan Keputih Perintis DCIX
Jalan Keputih Perintis DCX
Jalan Keputih Perintis DCXI
Jalan Keputih Perintis DCXII
Jalan Keputih Perintis DCXIII
Jalan Keputih Perintis DCXIV
Jalan Keputih Perintis DCXV
Jalan Keputih Perintis DCXVI
Jalan Keputih Perintis DCXVII
Jalan Keputih Perintis DCXVIII
Jalan Keputih Perintis DCXIX
Jalan Keputih Perintis DCXX
Jalan Keputih Perintis DCXXI
Jalan Keputih Perintis DCXXII
Jalan Keputih Perintis DCXXIII
Jalan Keputih Perintis DCXXIV
Jalan Keputih Perintis DCXXV
Jalan Keputih Perintis DCXXVI
Jalan Keputih Perintis DCXXVII
Jalan Keputih Perintis DCXXVIII
Jalan Keputih Perintis DCXXIX
Jalan Keputih Perintis DCXXX
Jalan Keputih Perintis DCXXXI
Jalan Keputih Perintis DCXXXII
Jalan Keputih Perintis DCXXXIII
Jalan Keputih Perintis DCXXXIV
Jalan Keputih Perintis DCXXXV
Jalan Keputih Perintis DCXXXVI
Jalan Keputih Perintis DCXXXVII
Jalan Keputih Perintis DCXXXVIII
Jalan Keputih Perintis DCXXXIX
Jalan Keputih Perintis DCXL
Jalan Keputih Perintis DCXLI
Jalan Keputih Perintis DCXLII
Jalan Keputih Perintis DCXLIII
Jalan Keputih Perintis DCXLIV
Jalan Keputih Perintis DCXLV
Jalan Keputih Perintis DCXLVI
Jalan Keputih Perintis DCXLVII
Jalan Keputih Perintis DCXLVIII
Jalan Keputih Perintis DCXLIX
Jalan Keputih Perintis DCL
Jalan Keputih Perintis DCLI
Jalan Keputih Perintis DCLII
Jalan Keputih Perintis DCLIII
Jalan Keputih Perintis DCLIV
Jalan Keputih Perintis DCLV
Jalan Keputih Perintis DCLVI
Jalan Keputih Perintis DCLVII
Jalan Keputih Perintis DCLVIII
Jalan Keputih Perintis DCLIX
Jalan Keputih Perintis DCLX
Jalan Keputih Perintis DCLXI
Jalan Keputih Perintis DCLXII
Jalan Keputih Perintis DCLXIII
Jalan Keputih Perintis DCLXIV
Jalan Keputih Perintis DCLXV
Jalan Keputih Perintis DCLXVI
Jalan Keputih Perintis DCLXVII
Jalan Keputih Perintis DCLXVIII
Jalan Keputih Perintis DCLXIX
Jalan Keputih Perintis DCLXX
Jalan Keputih Perintis DCLXXI
Jalan Keputih Perintis DCLXXII
Jalan Keputih Perintis DCLXXIII
Jalan Keputih Perintis DCLXXIV
Jalan Keputih Perintis DCLXXV
Jalan Keputih Perintis DCLXXVI
Jalan Keputih Perintis DCLXXVII
Jalan Keputih Perintis DCLXXVIII
Jalan Keputih Perintis DCLXXIX
Jalan Keputih Perintis DCLXXX
Jalan Keputih Perintis DCLXXXI
Jalan Keputih Perintis DCLXXXII
Jalan Keputih Perintis DCLXXXIII
Jalan Keputih Perintis DCLXXXIV
Jalan Keputih Perintis DCLXXXV
Jalan Keputih Perintis DCLXXXVI
Jalan Keputih Perintis DCLXXXVII
Jalan Keputih Perintis DCLXXXVIII
Jalan Keputih Perintis DCLXXXIX
Jalan Keputih Perintis DCXC
Jalan Keputih Perintis DCXCI
Jalan Keputih Perintis DCXCII
Jalan Keputih Perintis DCXCIII
Jalan Keputih Perintis DCXCIV
Jalan Keputih Perintis DCXCV
Jalan Keputih Perintis DCXCVI
Jalan Keputih Perintis DCXCVII
Jalan Keputih Perintis DCXCVIII
Jalan Keputih Perintis DCXCIX
Jalan Keputih Perintis DCC
Jalan Keputih Perintis DCCI
Jalan Keputih Perintis DCCII
Jalan Keputih Perintis DCCIII
Jalan Keputih Perintis DCCIV
Jalan Keputih Perintis DCCV
Jalan Keputih Perintis DCCVI
Jalan Keputih Perintis DCCVII
Jalan Keputih Perintis DCCVIII
Jalan Keputih Perintis DCCIX
Jalan Keputih Perintis DCCX
Jalan Keputih Perintis DCCXI
Jalan Keputih Perintis DCCXII
Jalan Keputih Perintis DCCXIII
Jalan Keputih Perintis DCCXIV
Jalan Keputih Perintis DCCXV
Jalan Keputih Perintis DCCXVI
Jalan Keputih Perintis DCCXVII
Jalan Keputih Perintis DCCXVIII
Jalan Keputih Perintis DCCXIX
Jalan Keputih Perintis DCCXX
Jalan Keputih Perintis DCCXXI
Jalan Keputih Perintis DCCXXII
Jalan Keputih Perintis DCCXXIII
Jalan Keputih Perintis DCCXXIV
Jalan Keputih Perintis DCCXXV
Jalan Keputih Perintis DCCXXVI
Jalan Keputih Perintis DCCXXVII
Jalan Keputih Perintis DCCXXVIII
Jalan Keputih Perintis DCCXXIX
Jalan Keputih Perintis DCCXXX
Jalan Keputih Perintis DCCXXXI
Jalan Keputih Perintis DCCXXXII
Jalan Keputih Perintis DCCXXXIII
Jalan Keputih Perintis DCCXXXIV
Jalan Keputih Perintis DCCXXXV
Jalan Keputih Perintis DCCXXXVI
Jalan Keputih Perintis DCCXXXVII
Jalan Keputih Perintis DCCXXXVIII
Jalan Keputih Perintis DCCXXXIX
Jalan Keputih Perintis DCCXL
Jalan Keputih Perintis DCCXLI
Jalan Keputih Perintis DCCXLII
Jalan Keputih Perintis DCCXLIII
Jalan Keputih Perintis DCCXLIV
Jalan Keputih Perintis DCCXLV
Jalan Keputih Perintis DCCXLVI
Jalan Keputih Perintis DCCXLVII
Jalan Keputih Perintis DCCXLVIII
Jalan Keputih Perintis DCCXLIX
Jalan Keputih Perintis DCCL
Jalan Keputih Perintis DCCLI
Jalan Keputih Perintis DCCLII
Jalan Keputih Perintis DCCLIII
Jalan Keputih Perintis DCCLIV
Jalan Keputih Perintis DCCLV
Jalan Keputih Perintis DCCLVI
Jalan Keputih Perintis DCCLVII
Jalan Keputih Perintis DCCLVIII
Jalan Keputih Perintis DCCLIX
Jalan Keputih Perintis DCCLX
Jalan Keputih Perintis DCCLXI
Jalan Keputih Perintis DCCLXII
Jalan Keputih Perintis DCCLXIII
Jalan Keputih Perintis DCCLXIV
Jalan Keputih Perintis DCCLXV
Jalan Keputih Perintis DCCLXVI
Jalan Keputih Perintis DCCLXVII
Jalan Keputih Perintis DCCLXVIII
Jalan Keputih Perintis DCCLXIX
Jalan Keputih Perintis DCCLXX
Jalan Keputih Perintis DCCLXXI
Jalan Keputih Perintis DCCLXXII
Jalan Keputih Perintis DCCLXXIII
Jalan Keputih Perintis DCCLXXIV
Jalan Keputih Perintis DCCLXXV
Jalan Keputih Perintis DCCLXXVI
Jalan Keputih Perintis DCCLXXVII
Jalan Keputih Perintis DCCLXXVIII
Jalan Keputih Perintis DCCLXXIX
Jalan Keputih Perintis DCCLXXX
Jalan Keputih Perintis DCCLXXXI
Jalan Keputih Perintis DCCLXXXII
Jalan Keputih Perintis DCCLXXXIII
Jalan Keputih Perintis DCCLXXXIV
Jalan Keputih Perintis DCCLXXXV
Jalan Keputih Perintis DCCLXXXVI
Jalan Keputih Perintis DCCLXXXVII
Jalan Keputih Perintis DCCLXXXVIII
Jalan Keputih Perintis DCCLXXXIX
Jalan Keputih Perintis DCCXC
Jalan Keputih Perintis DCCXCI
Jalan Keputih Perintis DCCXCII
Jalan Keputih Perintis DCCXCIII
Jalan Keputih Perintis DCCXCIV
Jalan Keputih Perintis DCCXCV
Jalan Keputih Perintis DCCXCVI
Jalan Keputih Perintis DCCXCVII
Jalan Keputih Perintis DCCXCVIII
Jalan Keputih Perintis DCCXCIX
Jalan Keputih Perintis DCCC
Jalan Keputih Perintis DCCCI
Jalan Keputih Perintis DCCCII
Jalan Keputih Perintis DCCCIII
Jalan Keputih Perintis DCCCIV
Jalan Keputih Perintis DCCCV
Jalan Keputih Perintis DCCCVI
Jalan Keputih Perintis DCCCVII
Jalan Keputih Perintis DCCCVIII
Jalan Keputih Perintis DCCCIX
Jalan Keputih Perintis DCCCX
Jalan Keputih Perintis DCCCXI
Jalan Keputih Perintis DCCCXII
Jalan Keputih Perintis DCCCXIII
Jalan Keputih Perintis DCCCXIV
Jalan Keputih Perintis DCCCXV
Jalan Keputih Perintis DCCCXVI
Jalan Keputih Perintis DCCCXVII
Jalan Keputih Perintis DCCCXVIII
Jalan Keputih Perintis DCCCXIX
Jalan Keputih Perintis DCCCXX
Jalan Keputih Perintis DCCCXXI
Jalan Keputih Perintis DCCCXXII
Jalan Keputih Perintis DCCCXXIII
Jalan Keputih Perintis DCCCXXIV
Jalan Keputih Perintis DCCCXXV
Jalan Keputih Perintis DCCCXXVI
Jalan Keputih Perintis DCCCXXVII
Jalan Keputih Perintis DCCCXXVIII
Jalan Keputih Perintis DCCCXXIX
Jalan Keputih Perintis DCCCXXX
Jalan Keputih Perintis DCCCXXXI
Jalan Keputih Perintis DCCCXXXII
Jalan Keputih Perintis DCCCXXXIII
Jalan Keputih Perintis DCCCXXXIV
Jalan Keputih Perintis DCCCXXXV
Jalan Keputih Perintis DCCCXXXVI
Jalan Keputih Perintis DCCCXXXVII
Jalan Keputih Perintis DCCCXXXVIII
Jalan Keputih Perintis DCCCXXXIX
Jalan Keputih Perintis DCCCXL
Jalan Keputih Perintis DCCCXLI
Jalan Keputih Perintis DCCCXLII
Jalan Keputih Perintis DCCCXLIII
Jalan Keputih Perintis DCCCXLIV
Jalan Keputih Perintis DCCCXLV
Jalan Keputih Perintis DCCCXLVI
Jalan Keputih Perintis DCCCXLVII
Jalan Keputih Perintis DCCCXLVIII
Jalan Keputih Perintis DCCCXLIX
Jalan Keputih Perintis DCCCL

PROJECT 8

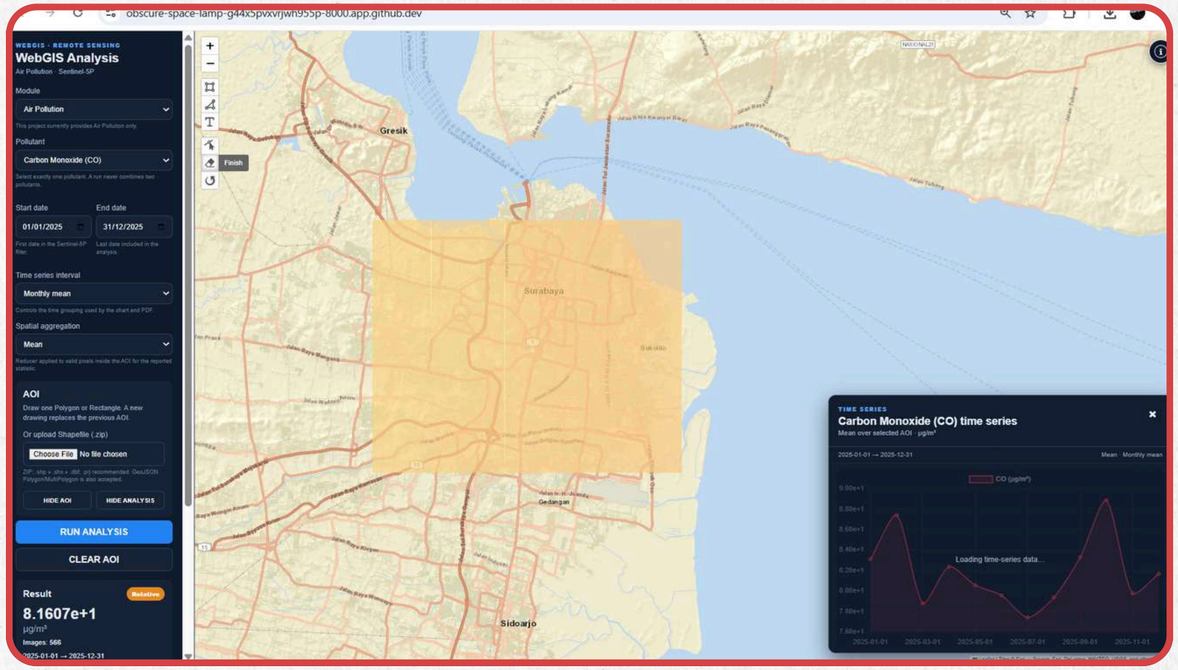


DEFORESTATION MONITORING WEBGIS USING LANDSAT TIME-SERIES AND GOOGLE EARTH ENGINE

This project develops an interactive WebGIS for monitoring forest cover and deforestation using multi-temporal Landsat imagery and Google Earth Engine (GEE), featuring cloud masking, temporal compositing, forest classification, AOI-based analysis, time-series visualization, and exportable results from 1990–2020. The WebGIS was developed through prompt engineering and AI-assisted coding using GPT-based AI, with the workflow, requirements, and system design directed and refined by the developer.

Demo: Currently available as a demonstration through GitHub Codespaces and requires the backend service to be active. The application is not continuously hosted. Please contact me if you would like to test the demo. **Click to Open WebGIS Demo**

PROJECT 9



INTERACTIVE AIR POLLUTION WEBGIS USING SENTINEL-5P AND GOOGLE EARTH ENGINE

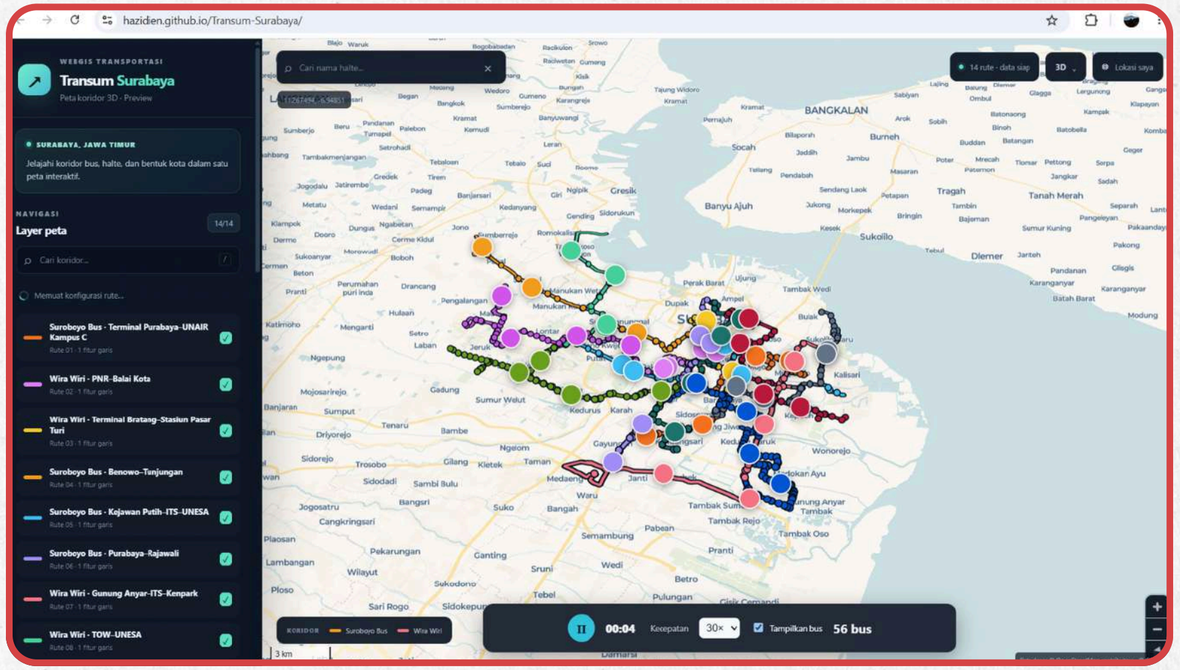
WebGIS for analyzing atmospheric pollution using Sentinel-5P and Google Earth Engine. Users can select pollutants, define dates and AOI, generate spatial concentration maps, statistics, and time-series visualizations. The WebGIS was developed through prompt engineering and AI-assisted coding using GPT-based AI, with the workflow, requirements, and system design directed and refined by the developer.

Demo: Currently available as a demonstration through GitHub Codespaces and requires an active backend service. The application is not continuously hosted. Please contact me if you would like to test the WebGIS.

→ **Click to Open WebGIS Demo**

PROJECT 10

gis portfolio



3D WEBGIS FOR PUBLIC TRANSPORTATION ROUTES AND STOP ACCESSIBILITY IN SURABAYA

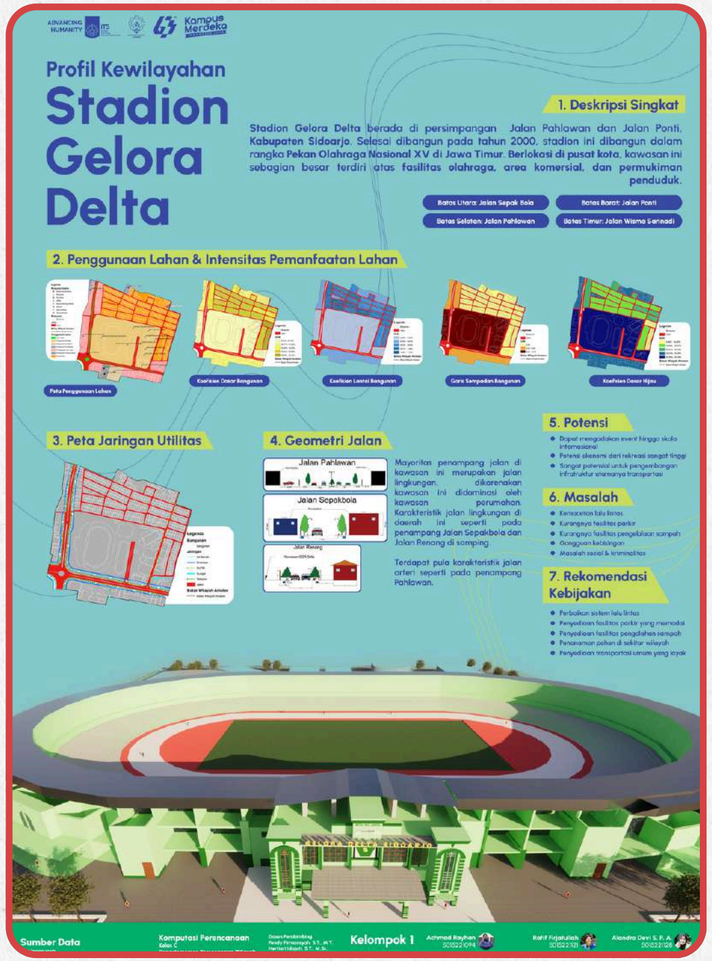
Developed an interactive 3D WebGIS featuring 14 Suroboyo Bus and Wira Wiri routes, including route networks and bus stop locations across Surabaya. Integrated interactive stop and route information to display the number of buses serving each stop, total stops per route, and route length (km). Implemented spatial accessibility analysis to identify the nearest bus stops, estimate walking distances and travel times from user-selected locations, and visualize adjustable stop coverage buffers ranging from 100 m to 1 km.

→ **Click to Acces**

PROJECT 11

URBAN SPATIAL ANALYSIS AND BUILDING DEVELOPMENT PLANNING OF GELORA DELTA STADIUM, SIDOARJO

Conducted a comprehensive spatial analysis of the Gelora Delta Stadium area, Sidoarjo, focusing on land use patterns, building intensity, and urban development. Assessed building coverage ratio (KDB), floor area ratio (KLB), green area ratio (KDH), and building setback lines (GSB). Evaluated building massing and area development patterns, land use, utility networks, and road geometry to identify spatial potentials, infrastructure constraints, and urban issues. Developed planning recommendations and a 3D stadium model to support integrated spatial planning and area development.



LET'S WORK

TOGETHER!

+62 812-7086-5500 hazidienramadhanutomo@gmail.com https://www.linkedin.com/in/hazidienramadhanutomo/